Mapping the Mission

A Mapping Exercise for the Seventh-day Adventist Church in the East Zimbabwe Conference.



Leveraging GIS and mobile technology empowers targeted evangelistic outreach.

The East Zimbabwe Conference of the Seventh-day Adventist Church is initiating a comprehensive mapping exercise to enhance outreach and strengthen community engagement.

Utilizing Geographic Information Systems (GIS) and custom mobile applications to visualize the geographical distribution of church congregations and members.

Five strategic objectives bridge geographical data with active community engagement

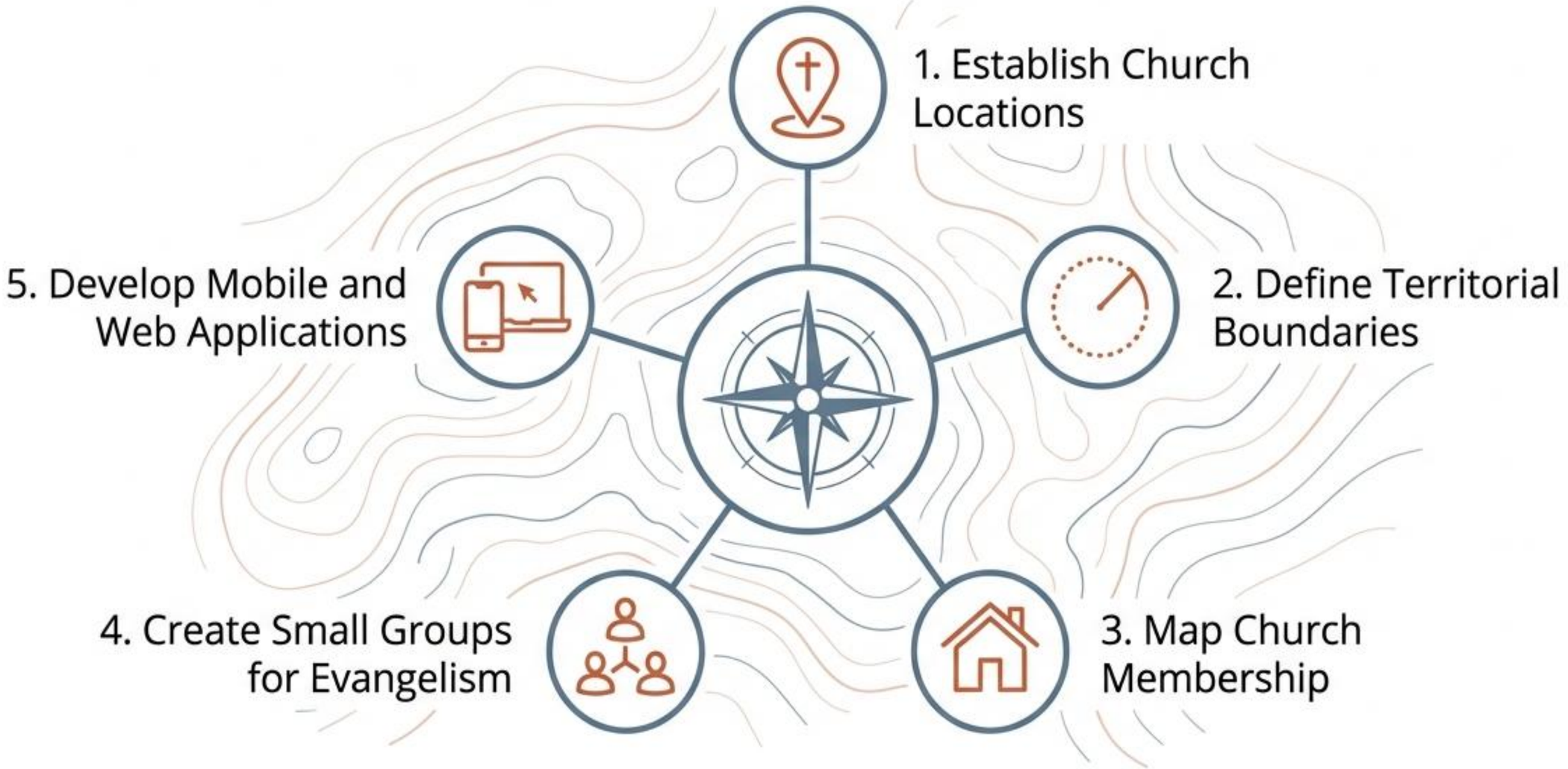

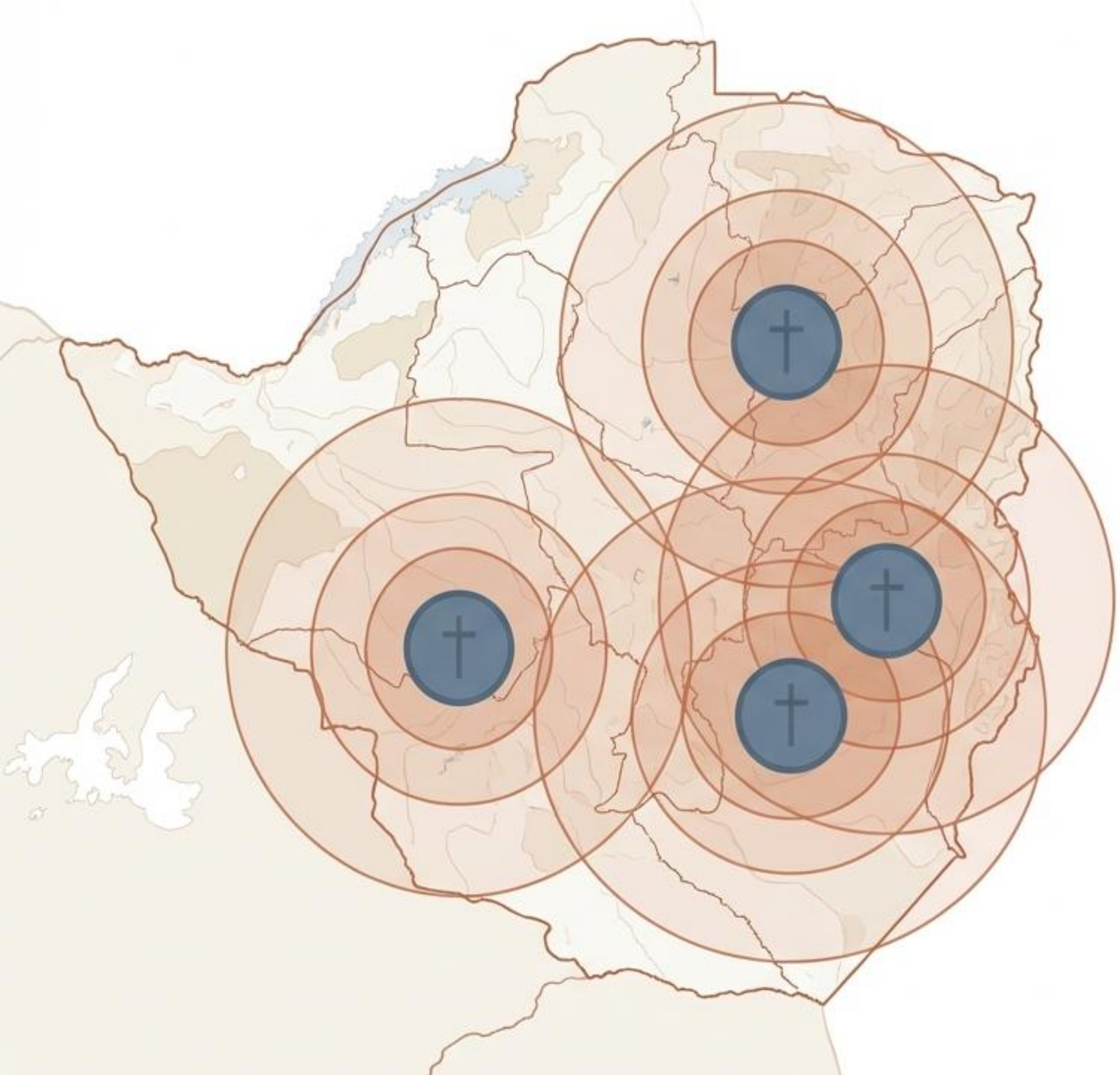

Mapping physical church nodes defines clear territorial catchment boundaries.

- **Establish Church Locations:** Identify and map the geographical locations of all Seventh-day Adventist churches within the East Zimbabwe Conference.
- **Capture Leadership Data:** Collect detailed information for each location, specifically identifying the Pastor, Head Elder, and Personal Ministries Director.

Defining Catchment Areas: Analyzing church locations allows us to draw territorial boundaries for each church, facilitating tailored evangelism strategies based directly on geographical data.

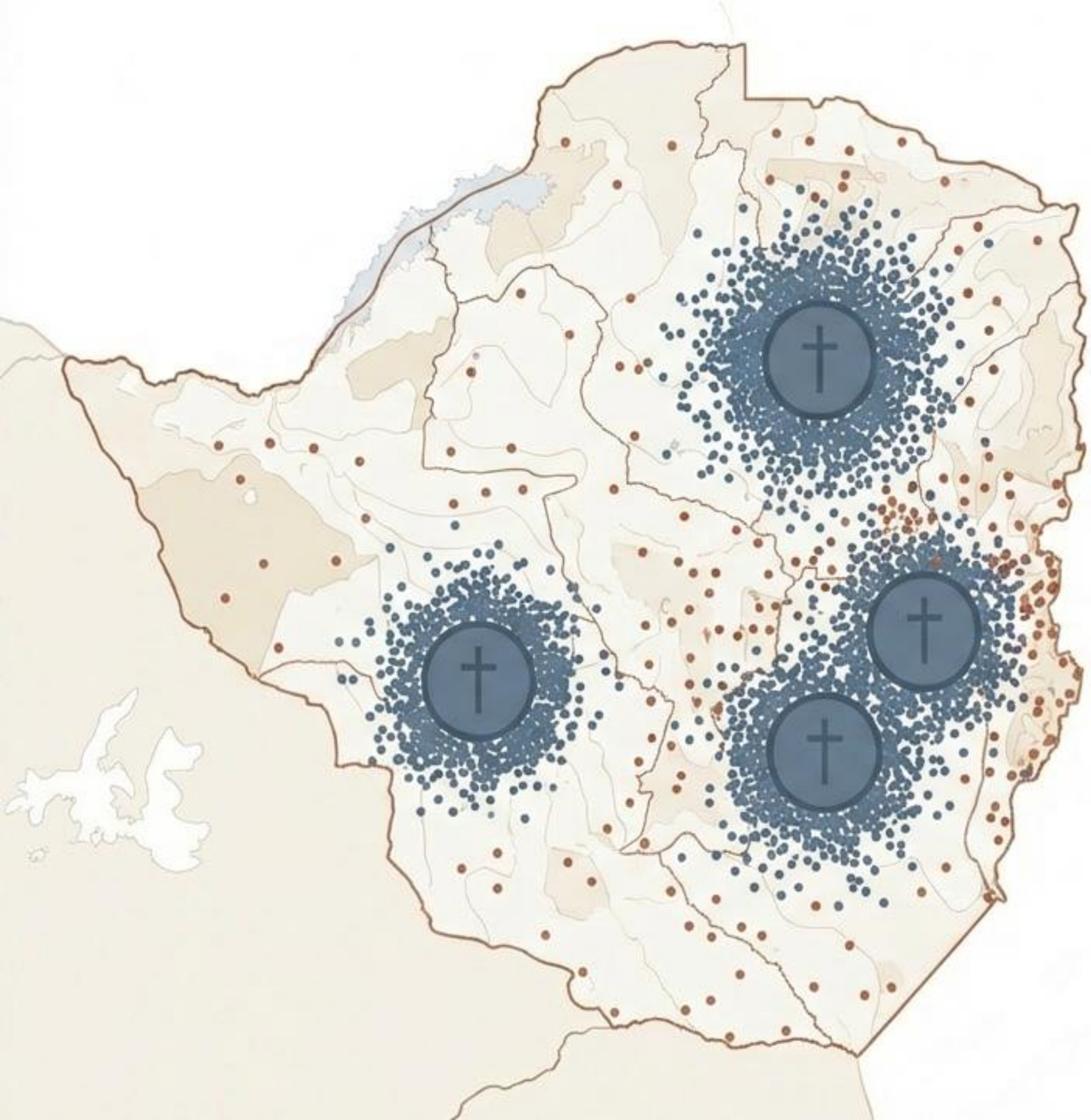

Analyzing household distribution reveals opportunities for localized small group evangelism.

Map Church Membership: Conduct a household mapping exercise to identify member locations. Assess spatial distribution relative to churches to pinpoint high-potential areas for growth.

Create Small Groups: Utilize mapping data to establish small groups where members take an active role in evangelizing their local community.

Targeted Outreach: Design specific outreach programs aimed directly at geographical areas identified as having fewer Adventist members.

A dual-platform technology hub drives both data collection and strategic visualization.

Mobile Application (For the Field): Designed for efficient data collection of church locations and member households by leaders and members.

Web Application (For Leadership): Designed for data visualization, assisting conference leadership in managing small groups and planning targeted evangelistic efforts.

A four-phase methodology transforms raw geographical data into continuous impact.

Phase 1 captures ground-truth data through custom mobile applications and field surveys.

Mobile App Development: Design a user-friendly app for church leaders and members to input locations, contact info, and leadership roles.

Field Surveys: Conduct surveys in each church area, using the app for real-time data entry and precise location tagging.

Qualitative Interviews: Engage church leadership to gather nuanced qualitative data on member distribution and specific community needs.

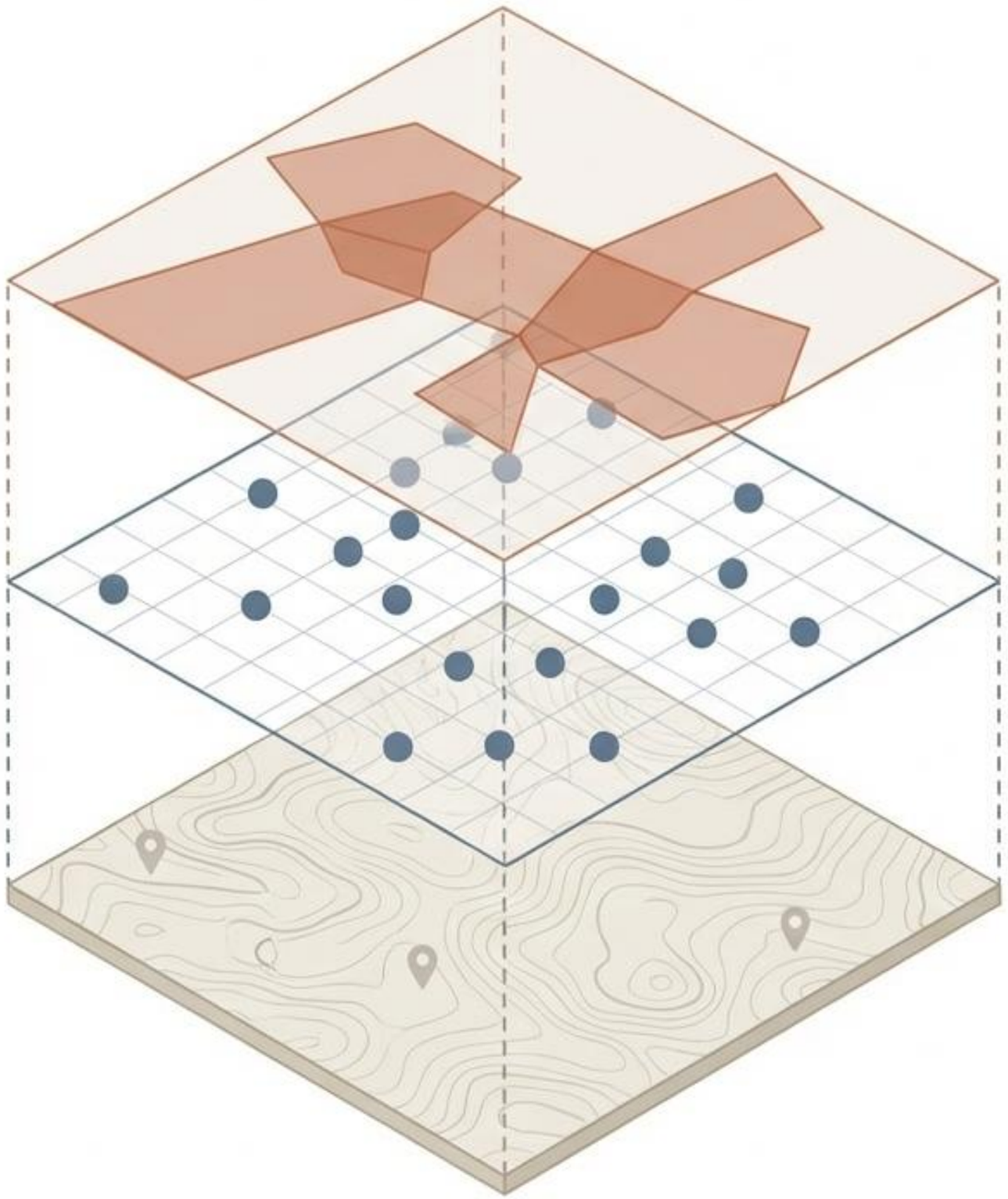

Phase 2 transforms field data into actionable intelligence via advanced spatial analysis.

GIS Mapping: Utilize GIS software to analyze collected data, precisely mapping both church locations and member households.

Catchment Generation: Generate detailed catchment area maps indicating territorial boundaries and member distributions.

Targeting Evangelism: Conduct spatial analysis to identify prime target areas for evangelism, based on spatial distribution and proximity to existing churches.

Phase 3 translates geographical insights into active community engagement.

Small Group Formation: Based entirely on mapping results, create small groups within the church to facilitate organized community engagement and evangelism efforts.

Training & Resource Development: Provide targeted training for small group leaders, equipping them with proven evangelism strategies and community outreach methods.

Phase 4 ensures sustainable growth through continuous monitoring and feedback.

Evaluate Outreach Impact: Monitor the growth and engagement levels of small groups to assess the true effectiveness of outreach efforts.

Establish Feedback Mechanisms: Develop a robust system for gathering ongoing feedback from members and leaders to continually improve both the mapping and the evangelism process over time.

Data-driven strategies yield tangible deliverables for conference-wide church growth

Comprehensive Maps: Full mapping of church locations and member households in the East Zimbabwe Conference.

Defined Boundaries: Clear territorial boundaries for highly effective outreach planning.

Increased Participation: Elevated engagement and active participation of church members in evangelism initiatives.

Data-Driven Growth: Actionable strategies designed specifically for church growth and measurable community impact.

Technology and GIS methods shape a sustainable future *for community engagement*

This mapping exercise represents a significant step toward enhancing outreach in the East Zimbabwe Conference. We are leveraging technology not just to understand our current landscape, but to shape a sustainable evangelism strategy that effectively engages our entire community.